MNKREB002 Rebecca Monk - 11 March 2026
SEA4001W: Python Programming: P2: Plotting Oceanographic Data and Time Series

Part 1 - Profiles

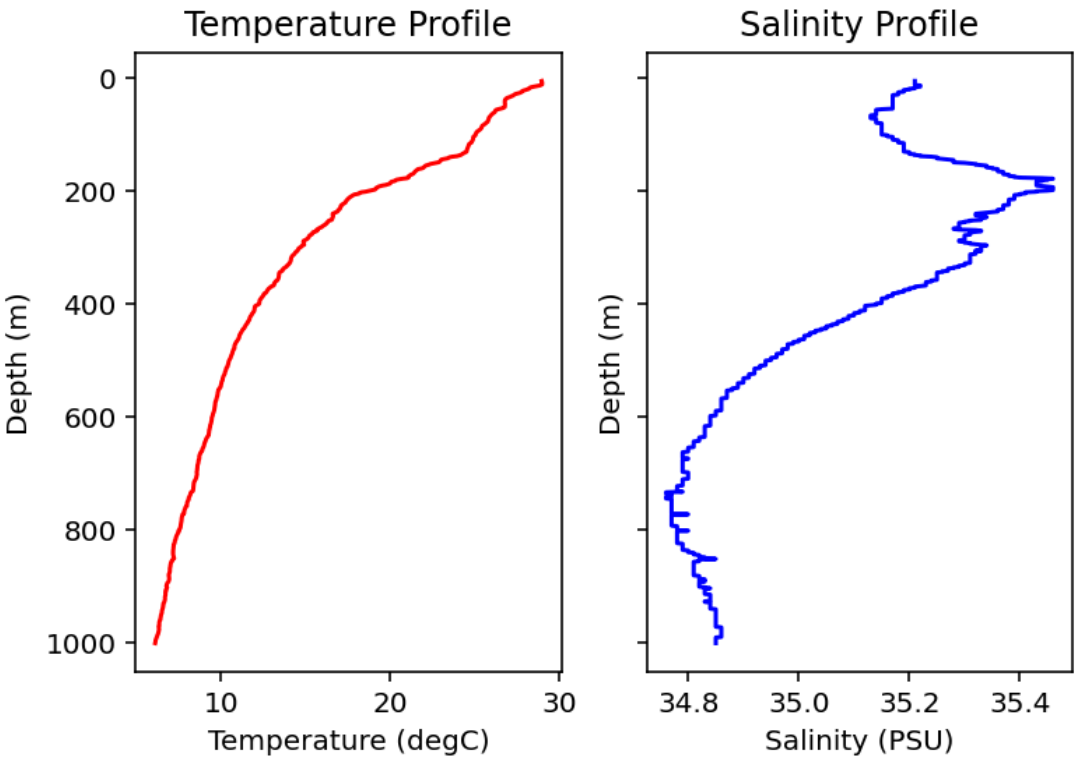

Figure 1: Temperature and salinity profiles for 1000 m plotted using CTD data.

Part 2 - Time Series

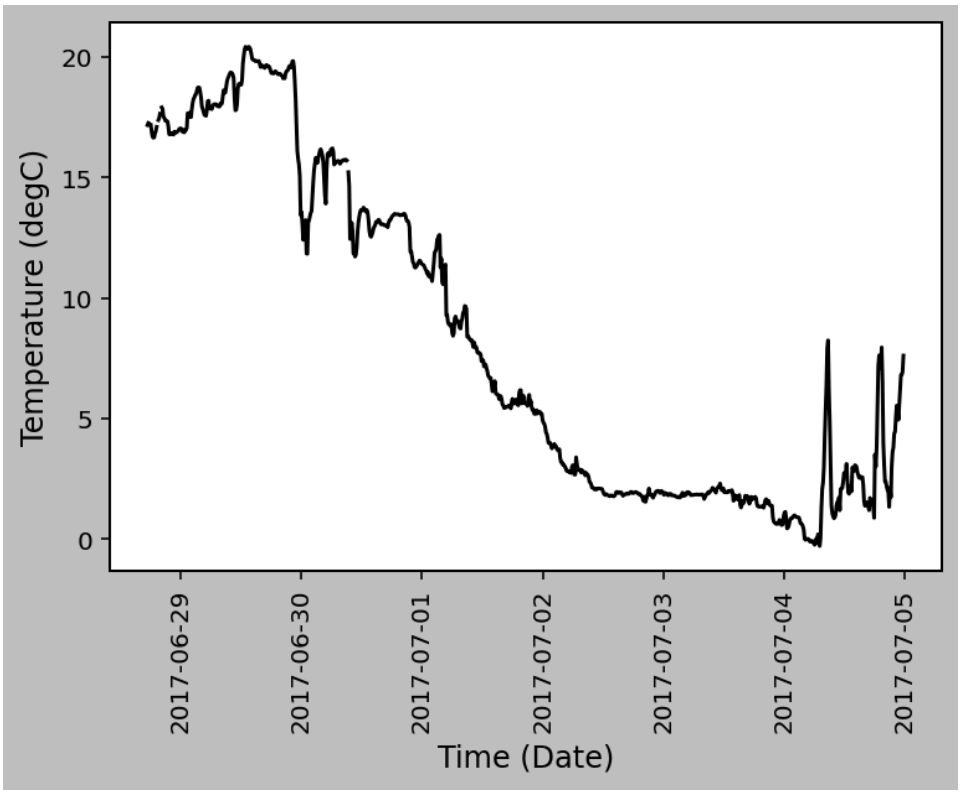

Figure 1: Surface temperature of the Southern Ocean over the course of eight days during the SA Agulhas II winter cruise in 2017 (28 June - 4 July) .

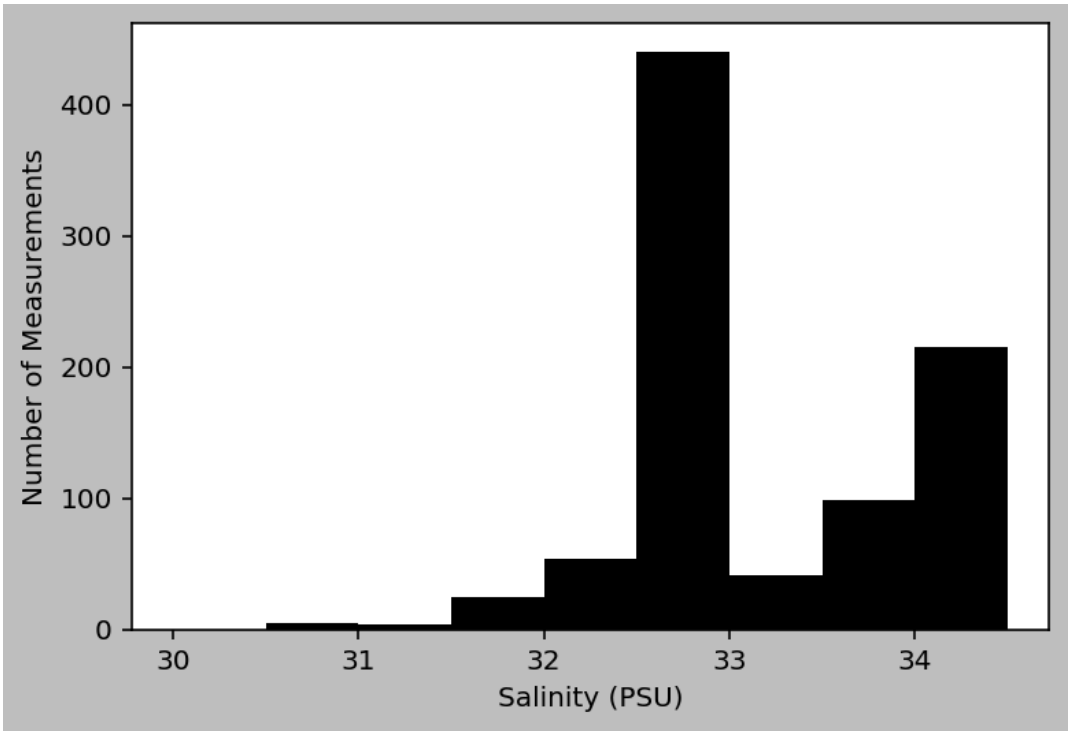

Figure 2: Frequency distribution showing the number of salinity measurements taken during the SA Agulhas II winter cruise in 2017 (28 June - 4 July).

	Mean	Standard Deviation	IQR
Temperature (degC)	8.146541	6.747988	11.768850
Salinity (PSU)	33.110553	1.140150	1.272575

Figure 3: Table showing the calculated mean, standard deviation and interquartile range for temperature and salinity data obtained during the SA Agulhas II winter cruise in 2017 (28 June - 4 July).

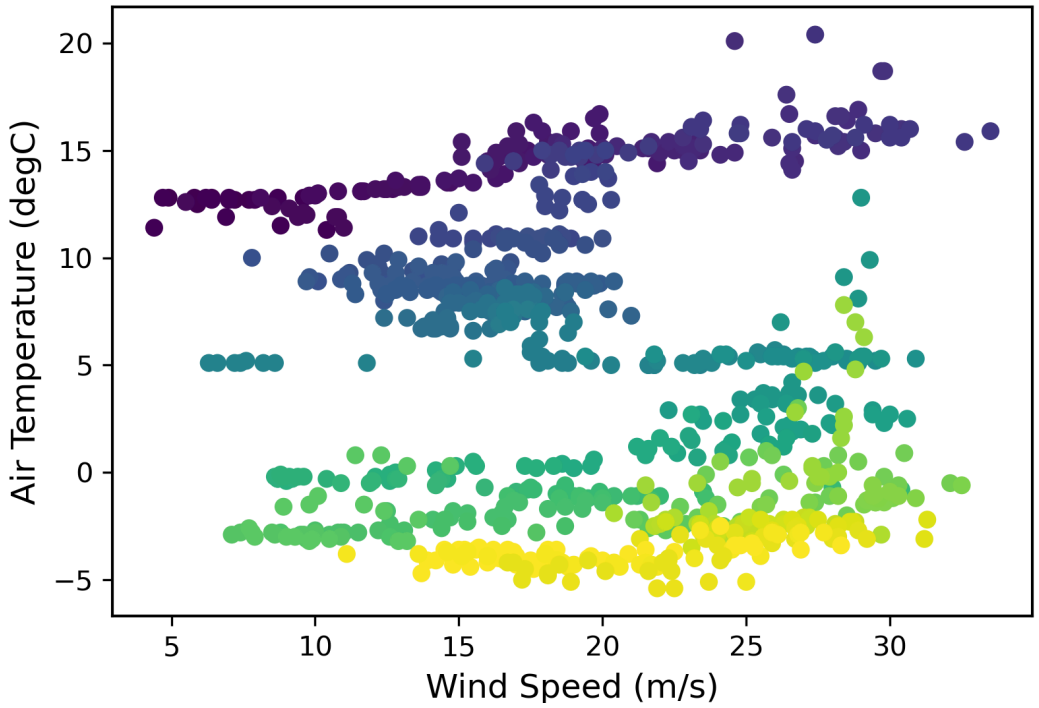

Figure 4: Scatter plot showing the relationship between the wind speed and air temperature during the SA Agulhas II winter cruise in 2017 (28 June - 4 July).